palimpsestr: An R Package for the Identification and Probabilistic Decomposition of Archaeological Palimpsests

Enzo Cocca[1,*], Roberto Montagnetti[2]

[1] Independent Researcher, Italy — ORCID: 0000-0002-8096-2810
[2] Università degli Studi dell'Aquila, Dipartimento di Scienze Umane, L'Aquila, Italy — ORCID: 0009-0004-2089-3122

* corresponding author: enzo.ccc@gmail.com

30 April 2026

Abstract

This paper presents `palimpsestr`, an R package and Shiny application dedicated to the **identification and probabilistic decomposition** of archaeological palimpsests — deposits in which material from multiple occupation phases is superimposed and partially intermixed. Such deposits represent one of the most persistent analytical challenges in field archaeology, and existing tools (Harris Matrix recording systems, k-means spatial clustering, GIS overlays) typically address only one evidence domain at a time. `palimpsestr` implements the Stratigraphic Entanglement Field (SEF) framework, which integrates four evidence domains — horizontal coordinates, vertical elevation, chronological range, and cultural class — into a single diagonal-covariance Gaussian mixture model fitted by Expectation-Maximisation. The model is augmented with optional taphonomic weighting and stratigraphic entanglement penalties derived from the Harris Matrix. Three interpretable diagnostics — the Stratigraphic Entanglement Index (SEI), Excavation Stratigraphic Energy (ESE), and Palimpsest Dissolution Index (PDI) — allow practitioners to assess deposit coherence, detect potentially redeposited finds, and evaluate the reliability of chronological attribution at the find, unit, and phase levels. The framework supports archaeologists in three principal interpretive tasks: assessing the re-

liability and coherence of stratigraphic units (distinguishing genuine palimpsests from recording errors); identifying intrusive finds with respect to both their typology and their stratigraphic position; and providing the basis for future statistical estimation of type longevity (the duration of use of pottery and material categories). The package supports CSV/TSV/Excel/SQLite/PostgreSQL data import, GIS export to GeoPackage via the `sf` package, publication-quality plots via `ggplot2` and interactive plots via `plotly`, and includes a built-in Shiny dashboard for non-programmatic use. Version 0.12.0 introduces five optional feature-space enhancements (chronological precision weighting, residuality detection, class scaling, taphonomic score as feature, sub-class encoding) developed in response to real-world testing. We present an overview of the application's functions and demonstrate its use through a case study at the multi-period Roman villa of Poggio Gramignano (Lugnano in Teverina, Italy). We also discuss the methodological assumptions of the SEF framework — in particular the implicit assumption of horizontal stratigraphy and the limited diagnostic power of the current intrusion score with respect to the direction of the chronological mismatch — and outline planned developments for the next release.

Keywords: archaeological methods, palimpsest analysis, probabilistic clustering, Gaussian mixture model, Harris Matrix, R package, Shiny application, post-excavation stratigraphy

Introduction

Archaeological excavation is a destructive practice whose results cannot be replicated. To minimise interpretive losses, the discipline has developed several formalisms for recording and analysing stratified deposits. Among them, the Harris Matrix (Harris 1989) provides a rigorous deterministic notation for stratigraphic relationships, and remains the principal tool for recording observed contacts between depositional units. Yet many archaeological deposits do not exhibit clean stratigraphy: in **palimpsests** — deposits where successive occupation phases are vertically and horizontally superimposed and partially intermixed — the boundaries between phases are often gradual rather than sharp (Bailey 2007; Lucas 2012). The phenomenon is ubiquitous: from deeply stratified Near Eastern tells to shallow open-air Palaeolithic sites where millennia of activity are compressed into a few

centimetres of sediment, and from Bronze Age terramare with continuous reoccupation to multi-period Roman villas where construction debris and later cemeteries have repeatedly redeposited earlier material.

Disentangling palimpsests requires integrating multiple lines of evidence. Spatial clustering methods such as k-means (Kintigh and Ammerman 1982) operate on coordinate data alone and cannot use chronological or typological information. Bayesian phase models for radiocarbon dating (Bronk Ramsey 2009; Crema and Bevan 2021) constrain temporal sequences but ignore spatial proximity. GIS overlays (Conolly and Lake 2006) offer powerful visualisation but no quantitative measure of phase coherence. Recent contributions have provided software tools for spatial exploration of piece-plotted finds (e.g. SEAHORS, Royer et al. 2023; archeoViz, Plutniak 2023), but these focus on visualisation rather than on the assessment of redeposition and the reconstruction of depositional events.

This paper presents `palimpsestr`, a free and open-source R package and Shiny application that addresses the latter problem. The package implements the Stratigraphic Entanglement Field (SEF) framework, a probabilistic method whose primary goal is to **assign each find a probabilistic score of possible redeposition** with respect to its multivariate context (spatial, vertical, chronological, cultural), and, by aggregation of these find-level scores, to **derive a measure of palimpsest character for each stratigraphic unit and for each grouping of units (depositional event or phase)**. The decomposition is achieved by jointly modelling four evidence domains — horizontal coordinates, vertical elevation, chronological range, and cultural class — through a Gaussian mixture model, which produces soft (probabilistic) assignments of finds to depositional events. From these assignments, three diagnostic statistics quantify deposit coherence, identify potentially redeposited finds, and evaluate the reliability of chronological attribution at the unit and event levels.

The intended archaeological contribution is threefold. First, `palimpsestr` supports the **interpretive evaluation of stratigraphic units** by quantifying the degree of mixing within each unit: a heavily mixed unit (low purity) may indicate either a genuine palimpsest deposit (e.g. a levelling fill quarried from multi-period contexts) or a recording error (two depositional events conflated under a single US label during excavation). Either way, the diagnostic flags the unit for re-examination. Second, the package detects **intru-**

sive finds with respect both to their typology and their stratigraphic position, providing a quantitative complement to the standard archaeological inspection. Third, by jointly modelling chronology and cultural class, `palimpsestr` enables future statistical estimation of **type longevity** – the duration of use of pottery types, metal artefact forms, or other typologically defined categories – as a derived product of the inferred phase model.

`palimpsestr` is freely available under MIT licence on GitHub (https://github.com/enzococca/palimpsestr). The package supports data import from CSV, TSV, Excel, SQLite, and PostgreSQL (including the PyArchInit database schema widely used in Italian archaeological practice), and provides GIS export to GeoPackage via the `sf` package, supporting integration with QGIS workflows. A built-in Shiny dashboard (`launch_app()`) provides a point-and-click interface for archaeologists without R programming experience.

The remainder of this paper is organised as follows. Section "Methodological framework" introduces the Stratigraphic Entanglement Field formalism, the Gaussian mixture model and its extensions, and the three diagnostic statistics. Section "Software overview" describes installation, package architecture, and the Shiny dashboard. Section "Data preparation" details the data formats and required columns. Sections "Core functions" and "Visualisation" describe the principal model-fitting and plotting functions. Section "Case study: Poggio Gramignano" demonstrates the application on a real-world multi-period Roman villa dataset. Section "Limitations and future development" discusses the package's known caveats, the v0.12.0 feature-space improvements, and avenues for future work.

Methodological framework

The Stratigraphic Entanglement Index (SEI)

The Stratigraphic Entanglement Index (SEI) quantifies how strongly two finds i and j are *entangled*, i.e. how much joint evidence supports their co-occurrence within the same depositional event. For each pair of finds, the SEI is defined as the weighted sum of four contributions:

$$SEI_{ij} = \frac{w_s}{d_{xy}(i,j) + \epsilon} + \frac{w_z}{\max(|z_i - z_j|, z_{\text{floor}})} + w_t \cdot O_t(i,j) + w_c \cdot \mathbb{1}[c_i = c_j]$$

where $d_{xy}(i,j)$ is the Euclidean distance in the horizontal plane (with a small ϵ preventing division by zero), $|z_i - z_j|$ is the absolute vertical separation (with a z_{floor} minimum threshold), $O_t(i,j)$ is the chronological overlap ratio computed from the intersection of the temporal ranges $[t_{\text{min},i}, t_{\text{max},i}]$ and $[t_{\text{min},j}, t_{\text{max},j}]$ relative to their union, and $\mathbb{1}[c_i = c_j]$ is an indicator function equal to 1 when both finds belong to the same cultural class. The weights w_s, w_z, w_t, w_c default to unity but allow the analyst to encode prior knowledge about which evidence domains are most reliable for a given site.

Each component is normalised to $[0, 1]$ within the dataset before weighting, ensuring that the four evidence domains contribute on a comparable scale. The resulting SEI matrix can be used both as a regularisation term during model fitting (encouraging strongly entangled finds to receive similar phase assignments) and as the basis for the Excavation Stratigraphic Energy diagnostic.

Diagonal Gaussian Mixture EM

Phase decomposition proceeds via a Gaussian mixture model fitted by Expectation-Maximisation (EM, Dempster et al. 1977). The feature matrix for each find is constructed by concatenating: scaled horizontal coordinates (x, y), vertical coordinate (z), temporal midpoint and span of the date range $(t_{\text{mid}}, t_{\text{span}})$, and a one-hot encoding of the cultural class variable. The algorithm is initialised via k-means; the resulting hard assignments are converted to softmax probabilities. The EM procedure then iterates between an E-step (computing posterior phase membership probabilities given current parameters) and an M-step (updating mixture weights, means, and diagonal covariance matrices given current memberships).

Two modifications distinguish the SEF framework from a standard Gaussian mixture. First, **taphonomic weighting**: when a per-find taphonomic integrity score (taf_score, ranging from 0 = fully disturbed to 1 = pristine in situ) is supplied, it is used to down-weight poorly preserved items in the M-step responsibility calculation, reducing their influence on cluster centroids. A complementary additive penalty in the E-step posterior

discourages confident assignment of disturbed finds to any single phase. Second, **stratigraphic entanglement penalties**: the SEI matrix is incorporated as a soft constraint on the E-step posterior, encouraging finds with high mutual entanglement to receive similar phase assignments.

The diagonal-covariance assumption (i.e. independence between features within each phase) is a deliberate parsimony choice. With typical archaeological datasets ($n = 50$–500 finds, feature space $p \sim 7$–20), full covariance would risk overfitting; the BIC selection criterion naturally favours diagonal models when data are limited.

Diagnostic statistics

Three statistics summarise different aspects of the decomposition:

- **Excavation Stratigraphic Energy (ESE)**: for each find, ESE measures dissimilarity from spatial neighbours in terms of phase assignment. High ESE indicates that a find is surrounded by items assigned to different phases — a signature of depositional disruption, bioturbation, or post-depositional displacement.
- **Palimpsest Dissolution Index (PDI)**: a global statistic, $PDI = 1 - \bar{H}/\log(K)$, where $\bar{H}$ is mean Shannon entropy of phase-probability vectors and K is the number of phases. PDI ranges from 0 (complete mixing; every find is equally likely to belong to any phase) to 1 (perfect separation). Values above 0.7 generally indicate well-resolved phases.
- **Shannon entropy** (H_i) of each find's phase-probability vector, $H_i = -\sum_k p_{ik} \log p_{ik}$. Low entropy indicates confident assignment; high entropy signals ambiguity at phase boundaries or within heavily mixed zones.
- **Intrusion score**: a composite metric combining high entropy, high ESE, and low SEI connectivity. Finds exceeding a threshold (default 0.5) are flagged as candidate intrusions.

Software overview

palimpsestr is an R package distributed under the MIT licence. It is freely available on GitHub at https://github.com/enzococca/palimpsestr and permanently archived on Zenodo (DOI: https://doi.org/10.5281/zenodo.19881542). Installation requires R $\geq$ 4.1.0 and can be performed directly from the GitHub source via the remotes package:

```
install.packages("remotes")
remotes::install_github("enzococca/palimpsestr")
```

The package depends only on base R (stats, utils, graphics, grDevices); optional functionality is provided through suggested packages: ggplot2 and viridis for publication-quality plots, plotly for interactive visualisation, sf for GIS export, DBI with RSQLite or RPostgres for database connectivity, and shiny, shinydashboard and DT for the interactive dashboard. The optional dependencies are checked at runtime; functions that require them issue an informative error if the corresponding package is not installed.

The package architecture is modular: data import is handled by read_db() and load_geometries(); the core analytical engine by fit_sef() (Section "Core functions"); diagnostics by pdi(), detect_intrusions(), us_summary_table(), and phase_transition_matrix(); visualisation by plot_*() (base R) and gg_*() (ggplot2) functions; and reporting by report_sef() which produces interpretive summaries in English or Italian. A complete list of exported functions is provided in the package manual (?palimpsestr).

The Shiny dashboard

For users without R programming experience, the package includes a built-in Shiny dashboard, launched with:

```
library(palimpsestr)
launch_app()
```

The dashboard provides six tabs covering the entire analytical workflow: **Data**, for importing CSV, TSV, Excel, SQLite, or PostgreSQL data and mapping columns to the

required schema (with an optional panel for merging external taphonomic scores); **Analysis**, for selecting model parameters and running the fit, with separate controls for phase count selection (`compare_k`); **Plots**, for interactive visualisation via `plotly`; **Tables**, for browsing phase assignments, intrusion scores, per-US purity, and the transition matrix; **Maps**, for overlaying results on uploaded excavation plan geometries (GeoPackage, GeoJSON or shapefile); and **Report**, for generating interpretive reports and downloading results as CSV or ZIP archives.

Data preparation

Required columns

`palimpsestr` requires tabular data in which each row represents a single archaeological find. The mandatory columns are:

- x, y: horizontal coordinates (numeric, in any consistent reference system);
- z: vertical coordinate (numeric, depth or elevation);
- $t_{\min}, t_{\max}$: lower and upper bounds of the chronological interval (numeric, with negative values for BCE);
- c: cultural class (character, e.g. ceramic type or material category).

Two optional columns are supported:

- *context*: stratigraphic unit identifier (character), used for context-based penalties and per-US summaries;
- *taf_score*: taphonomic integrity score (numeric in $[0, 1]$), used for taphonomic weighting.

The package's auxiliary function `archaeo_sim()` generates synthetic datasets with these columns plus a known *true_phase* label, useful for testing and validation.

Supported file formats

The Shiny dashboard supports import from:

- **CSV/TSV**: comma-, semicolon-, or tab-separated text files;
- **Excel**: .xls and .xlsx files (via `openxlsx`);

- **SQLite**: .sqlite and .db files (via `RSQLite`), including PyArchInit databases;
- **PostgreSQL**: connection by host/port/dbname/user/password (via `RPostgres`), with optional custom SQL queries.

For GIS overlays, the dashboard accepts GeoPackage, GeoJSON, and shapefile (uploading all companion .shx, .dbf, .prj files) inputs via `sf`.

Database integration

The function `read_db()` provides programmatic access to any DBI-compliant database. Column mapping allows the user to align database column names with the package's expected schema:

```
library(DBI); library(RPostgres)
con <- dbConnect(Postgres(), dbname = "site_db", host = "localhost",
    user = "postgres", password = "...")
data <- read_db(con, table = "inventario_materiali_table",
    cols = list(x = "coord_x", y = "coord_y", z = "quota",
        date_min = "anno_iniziale", date_max = "anno_finale",
        class = "tipo_reperto", context = "us"))
dbDisconnect(con)
```

Core functions

Fitting the SEF model

The principal function is `fit_sef()`, which fits the Gaussian mixture model and returns an S3 object of class `sef_fit`. Its essential arguments are the data frame, the number of phases K, and (optionally) the column names for taphonomic score, context, and a Harris matrix:

```
fit <- fit_sef(data, k = 4,
    tafonomy = "taf_score",
    context = "context",
    harris = H,
    n_init = 10, seed = 42)
```

The `n_init` argument controls the number of random initialisations: the run with the highest log-likelihood is retained, mitigating the risk of local optima. The returned object stores phase assignments (`$phase`), soft probabilities (`$phase_prob`), per-find entropy and energy, the SEI matrix and its row sums, and a list of model statistics including PDI, BIC, and ICL. The `print` and `summary` methods produce concise textual summaries.

Phase count selection

When the number of phases is unknown, `compare_k()` fits the model across a range of K values and returns BIC, ICL, PDI, and mean entropy for each. The function `gg_compare_k()` renders a three-panel diagnostic plot:

```
ck <- compare_k(data, k_values = 2:7,
    tafonomy = "taf_score", context = "context")
gg_compare_k(ck)
```

The optimal K is typically chosen at the BIC minimum, although in practice the analyst should consider the archaeological plausibility of the resulting partition.

Harris Matrix integration

The Harris Matrix can be incorporated as a stratigraphic constraint in two ways. The function `harris_from_contexts()` auto-generates an $n \times n$ penalty matrix from the mean depth of finds in each context, on the assumption that deeper contexts are stratigraphically below shallower ones. Alternatively, `read_harris()` imports an external Harris Matrix from a CSV edge list (with columns *from*, *to*, and optional *weight*):

```
H <- read_harris("harris_matrix.csv", contexts = data$context)
fit <- fit_sef(data, k = 4, harris = H, context = "context")
```

The function `validate_phases_harris()` flags inversions in the assigned phase ordering relative to stratigraphic depth.

Intrusion detection and per-US summaries

The function `detect_intrusions()` computes a composite intrusion probability for each find, combining rescaled entropy, ESE, and inverse local SEI. Finds with intrusion prob-

ability above a configurable threshold (default 0.5) are flagged for closer examination. The function `us_summary_table()` aggregates diagnostics per stratigraphic unit, reporting dominant phase, **purity** (proportion of finds in the dominant phase), mean entropy, mean ESE, and intrusion count. Units with purity below 70% are flagged as palimpsests.

Visualisation

`palimpsestr` provides two parallel families of plotting functions: base R (`plot_*`) for environments without `ggplot2`, and `ggplot2`-based (`gg_*`) for publication-quality output. The principal `gg_*` functions are:

- `gg_phasefield()`: dominant phase assignment, with point size reflecting confidence;
- `gg_entropy()`: spatial distribution of Shannon entropy;
- `gg_energy()`: ESE field, highlighting zones of depositional disruption;
- `gg_intrusions()`: intrusion-probability map, with the top-N suspects labelled;
- `gg_phase_profile()`: vertical depth profile coloured by phase;
- `gg_compare_k()`: phase-count selection diagnostics;
- `gg_convergence()`: EM log-likelihood trace;
- `gg_confusion()`: confusion-matrix heatmap (when true labels are available);
- `gg_map()`: overlay of dominant phase, entropy, energy, or intrusion scores on uploaded excavation plan geometries.

Any `gg_*` plot can be converted to an interactive `plotly` version via `as_plotly()`, which adds hover tooltips reporting the find ID, context, phase probabilities, dating, class, and diagnostic scores.

GIS export is provided by `as_sf_phase()` (a point layer with phase assignments) and `as_sf_links()` (a line layer of high-SEI links between find pairs, useful for visualising entanglement in QGIS).

Case study: Poggio Gramignano

We illustrate the package on a multi-period Roman villa with a wide chronological range and well-differentiated material categories.

Site and dataset

Poggio Gramignano (VRPG) is a multi-period Roman villa with an annexed Late Antique infant cemetery, located at Lugnano in Teverina (TR, Italy) and excavated since 1988 (Soren and Soren 1999). The dataset analysed here comprises **615 inventoried finds** from **54 stratigraphic units** spanning eight archaeological periods, from the Pre-Roman period (650–350 BCE) through the Late Antique (5th–6th c. CE). Coordinates are US centroids in the Monte Mario / Italy zone 2 reference system (EPSG:3004); z is the mean elevation per US (in metres a.s.l.); chronological dating is derived from the site periodisation; 17 material classes are distinguished. Taphonomic scores were assigned by the excavator based on depositional context (1.0 for in situ deposits, 0.5–0.7 for accumulation and levelling layers, 0.3 for clearly redeposited fills); a non-zero floor for clearly redeposited fills is deliberate, since the goal of the model is to *suggest* redeposition where it has not been recognised on site, not to discard the evidence carried by these layers — finds redeposited from elsewhere still bear typological and chronological information that informs the phase model. Stratigraphic relationships extracted from the PyArchInit database (relations of "covers / is covered by", "cuts / is cut by") were used to build a Harris Matrix penalty matrix: an $n \times n$ matrix that increases the cost of assigning two finds belonging to stratigraphically incompatible units to the same depositional event during the EM iterations.

Phase count selection

The function `compare_k()` was used to evaluate model fit across $K = 2, \dots, 7$, with all v0.12.0 feature-space enhancements activated (chronological precision, residuality, class scaling, taphonomic score as feature). Figure 1 reports the resulting diagnostics: the BIC reaches a clear inflection at $K = 4$, which also coincides with the four macro-events archaeologically distinguishable at the site (Pre-Roman occupation, Late Imperial structural deposits, Late Antique structural collapse, Late Antique cemetery). $K = 4$ was therefore selected as the operational solution. We use the term *macro-event* rather than "phase" deliberately: these four groupings are widely separated in time (collectively spanning $ $1100 years) and were chosen to reflect the principal depositional regimes documented on site, not to claim a fine chronological resolution that the data cannot support. Within each macro-event finer subdivisions exist, but their resolution is limited by the precision

of the typological dating of the inventoried material.

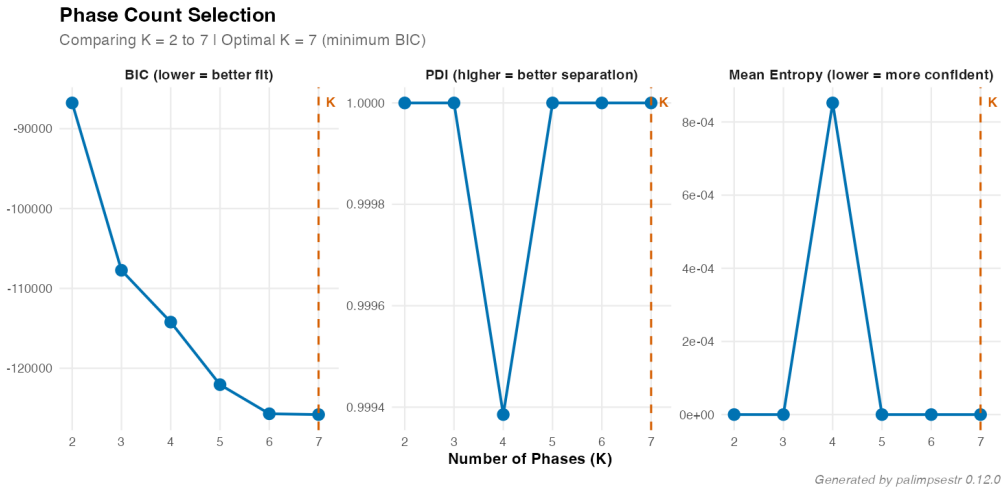

Figure 1: Phase-count selection diagnostics from compare_k(): BIC (lower is better), PDI (higher is better), and mean entropy across K = 2–7. The BIC inflection at K = 4 coincides with the four macro-periods of the site.

Phase composition

A four-event model with Harris constraint, taphonomic weighting, and the v0.12.0 feature-space enhancements recovered groupings coherent with the site periodisation (Table 1). Event 1 groups Pre-Roman finds (concentrated in US 210, an early pit beneath the villa foundations) together with residual Late Antique material from levelling deposits; Event 2 captures Late Imperial structural deposits (construction material, amphorae, glass and coins) accumulated during the late phase of habitational use of the villa; Event 3 isolates a small but typologically distinctive group of specialised material (lithics, samples, painted plaster, scraps) related to structural collapse and abandonment; Event 4 (the dominant fraction, 68.8%) corresponds to the Late Antique cemetery, dominated by ceramics and amphorae used in the burial rites.

Table 1: VRPG phase composition (K=4, v0.12.0).

Phase	Interpretation	N	%	Dominant materials	Mean taf
1	Pre-Roman + residual	117	19.0	Ceramics, metals, fauna	0.803
2	Late Imperial structural deposits	50	8.1	Construction, amphorae, glass	0.740
3	Specialised/residual	25	4.1	Lithics, samples, waste	0.712
4	Late Antique cemetery	423	68.8	Ceramics, amphorae, glass, coins	0.780

The model achieved $PDI = 1.000$, identified 8 finds (1.3%) as potential intrusions, and classified 38/54 stratigraphic units (70%) as pure (purity > 90%).

EM convergence

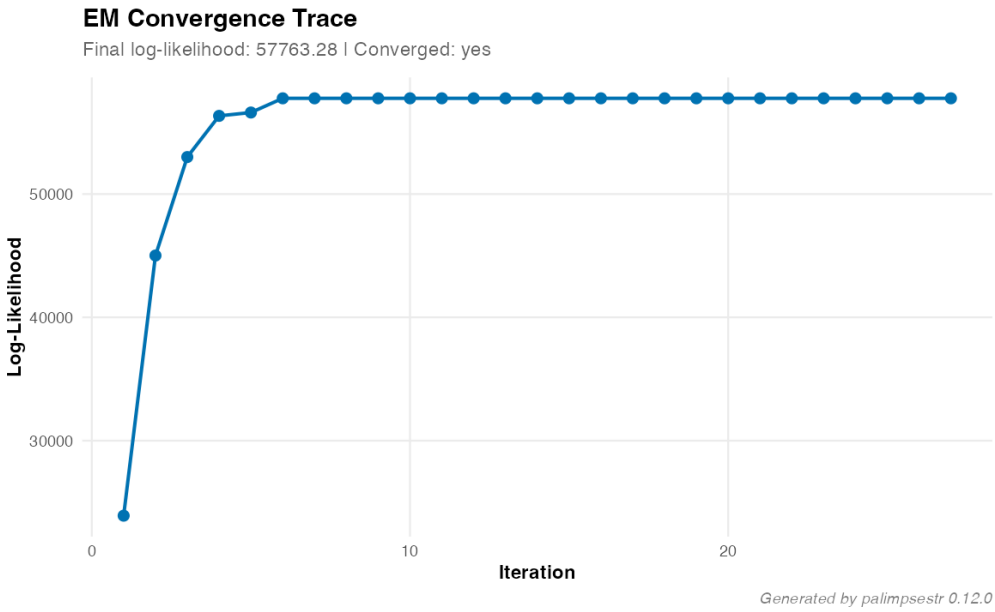

Figure 2: EM convergence trace for the K = 4 model. The log-likelihood stabilises within 30 iterations, indicating a robust local optimum. The package retains the best-of-10 random initialisations.

Spatial diagnostics

The phase-field map (Figure 3) reveals the spatial distribution of the four events on the excavation grid. The Late Antique cemetery (Event 4) dominates the principal excavated area; Pre-Roman finds (Event 1, in orange) are concentrated in the deeper areas around US 210; the Late Imperial structural deposits (Event 2) and the specialised/residual group (Event 3) are scattered between the cemetery and the abandoned residential structures.

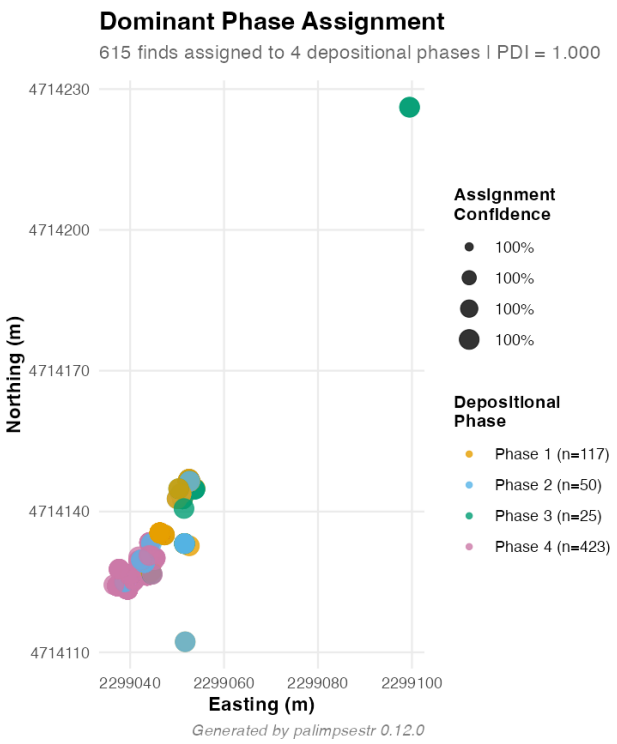

Figure 3: VRPG: dominant phase assignment from gg_phasefield(). Each point is a find; colour indicates phase, point size reflects assignment confidence (inverse entropy).

The entropy map (Figure 4) confirms that phase assignments are highly confident across the entire dataset: entropy values approach zero everywhere, indicating that the model is rarely uncertain about the phase of any individual find. This is partly an artefact of the high-dimensional feature space (which separates phases sharply) and partly a reflection of the genuine separability of the four periods at this site.

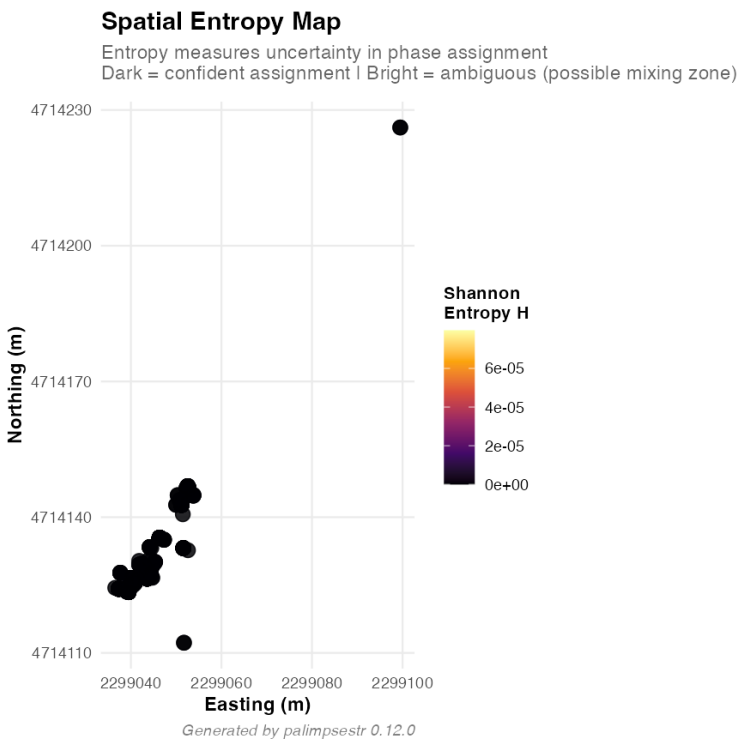

Figure 4: VRPG: spatial distribution of Shannon entropy from gg_entropy(). Dark = confident assignment to a single phase; bright = ambiguous assignment. Entropy is uniformly low, indicating high model confidence.

The energy map (Figure 5) is more informative: ESE values vary across the site, with elevated values in zones where finds of different phases are spatially adjacent. These zones correspond to known levelling and accumulation deposits where the cemetery overlaid earlier structures.

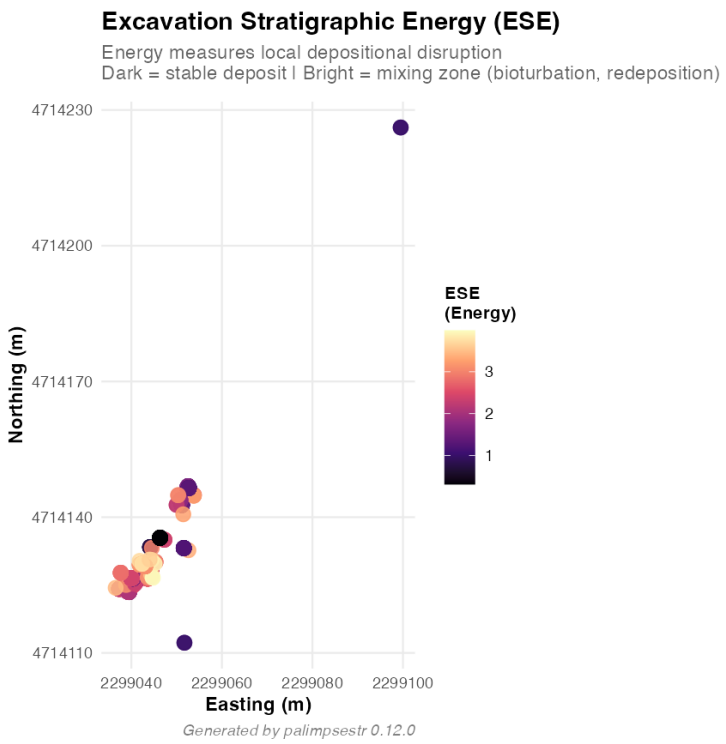

Figure 5: VRPG: Excavation Stratigraphic Energy (ESE) field from gg_energy(). Dark = stable deposit (find surrounded by same-phase neighbours); bright = local disruption zone.

Intrusion detection

The intrusion-probability map (Figure 6) flags 8 finds with intrusion probability above 0.5. These are predominantly non-ceramic items in ceramic-dominated contexts (US 304, a *dolium*-fragment hearth; US 151, an isolated amphora; US 276, an isolated metal find).

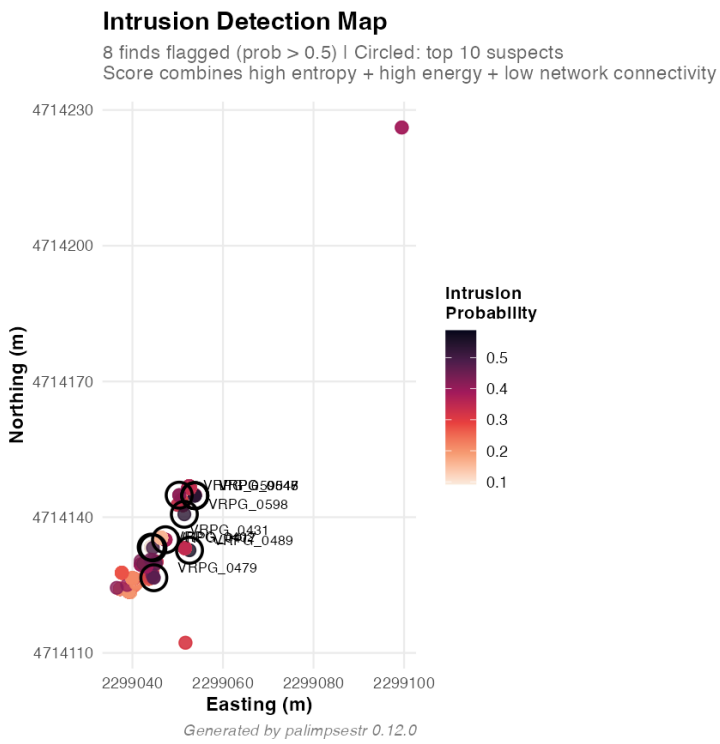

Figure 6: VRPG: intrusion detection from gg_intrusions(top_n = 10). Circled finds with labels are the highest-scoring suspects, computed from a composite of high entropy, high ESE, and low SEI connectivity.

Vertical phase profile

The vertical profile (Figure 7) shows that the four phases occupy stratigraphically coherent depth ranges, with Phase 4 (Late Antique cemetery, in pink) at the shallowest levels and Phase 1 (Pre-Roman + residual, in orange) at the deepest. The partial overlap between Phases 2 and 3 reflects the spatial proximity of structural collapses and accumulation deposits.

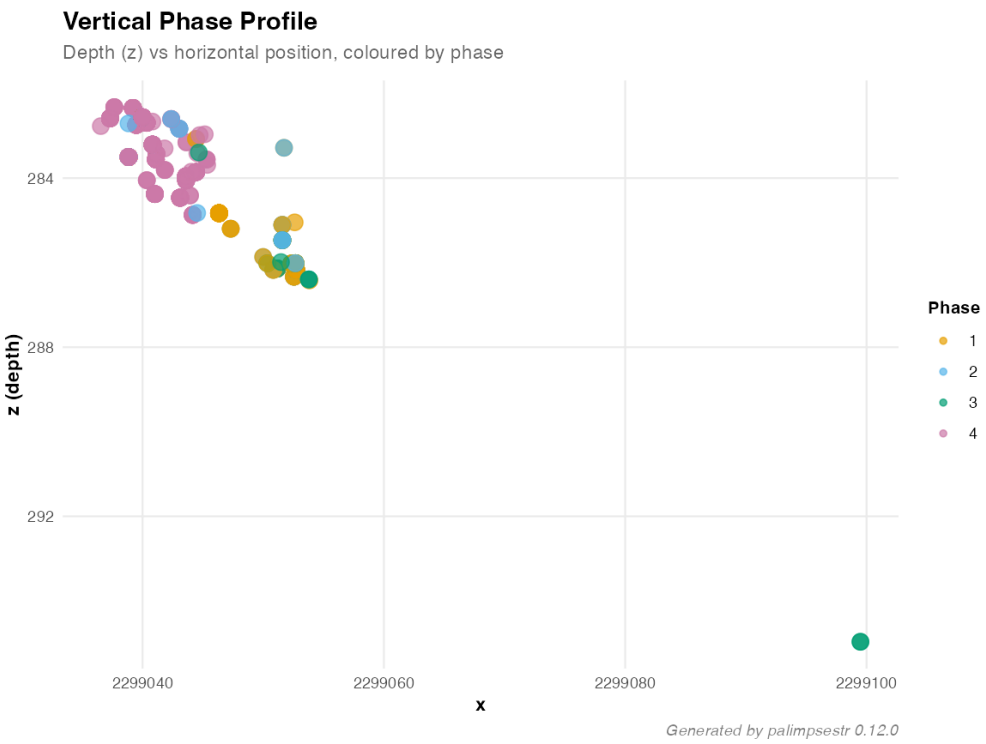

Figure 7: VRPG: vertical phase profile from gg_phase_profile(). Depth (z) on vertical axis, easting on horizontal axis; colours indicate phases. The stratigraphic ordering of phases is preserved by the model.

Maps on excavation plan

The function `gg_map()` overlays model output on the actual excavation plan geometries imported from the PyArchInit database. Figure 8 shows the dominant phase per US polygon; Figure 9 the mean entropy per US; Figure 10 the mean ESE per US; Figure 11 the mean intrusion probability per US.

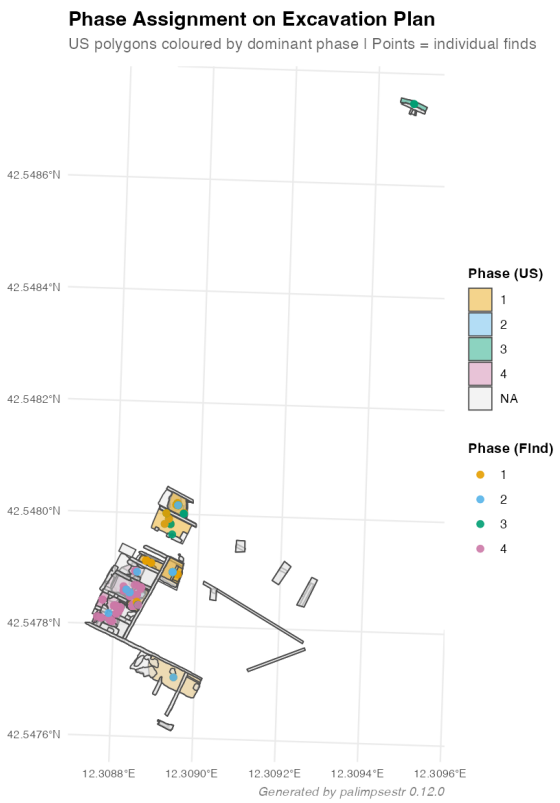

Figure 8: VRPG: dominant phase per US polygon (gg_map, layer = 'phase'). US polygons are coloured by their dominant phase; individual finds are overlaid as points.

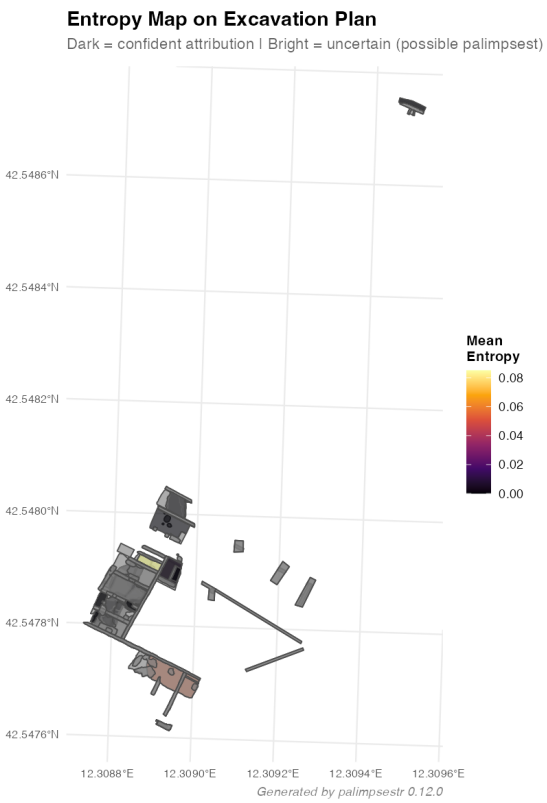

Figure 9: VRPG: mean entropy per US polygon (gg_map, layer = 'entropy'). Bright zones flag US with mixed-phase finds (potential palimpsests).

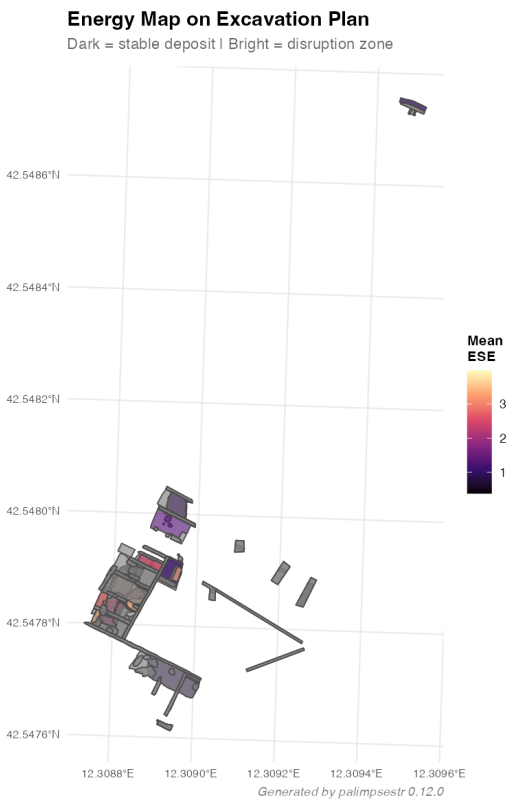

Figure 10: VRPG: mean ESE per US polygon (gg_map, layer = 'energy'). Bright zones indicate US with high local stratigraphic disruption.

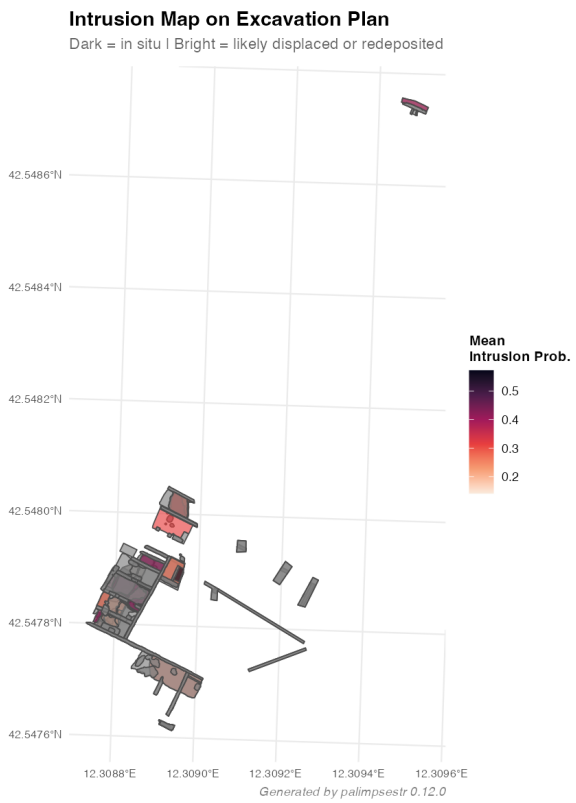

Figure 11: VRPG: mean intrusion probability per US polygon (gg_map, layer = 'intrusion'). Highlights US containing potentially redeposited or out-of-context finds.

Validation against the excavator's interpretation

Twelve units were classified as palimpsests (purity $< 70\%$); these correspond to known levelling fills and accumulation layers (US 76, US 287, US 307, US 297). The interpretation provided by the second author (Roberto Montagnetti, on-site coordinator of the Poggio Gramignano excavations) confirmed:

- **US 307** as a levelling layer with material from various periods quarried from adjacent areas;
- **US 287** as an accumulation layer with multi-period material;
- **US 76** as a levelling fill used to raise floor levels;
- **US 304** as a combustion deposit inside a *dolium*-fragment hearth (the model flagged the heterogeneous content but the mixing here is functional, not depositional — a known limitation discussed in the next section).

Following this validation, taphonomic scores for US 76, US 287, US 297, and US 307 were lowered (from 0.7 to 0.3–0.4) to reflect the residual nature of their material; the analysis

presented here uses these corrected values.

Limitations and future development

Field testing on the case study highlighted several limitations and motivated the v0.12.0 feature-space improvements summarised below.

Limitations

- **Horizontal-stratigraphy assumption**: the model treats the vertical coordinate z as a proxy for relative chronological position. This assumption is valid only when the deposit accumulates by sub-horizontal strata, undisturbed by significant anthropogenic features. It is **not valid** for inclined deposits, slope-collapses, the fills of cuts (pits, ditches, post-holes), or terraced sediments, where finds at different z values may belong to a single depositional event. The taphonomic score partly compensates by down-weighting fills (typically taf < 0.5), but users should be aware that the model is most reliable on horizontally stratified deposits and apply caution in geometrically complex contexts.
- **Direction of intrusions is not yet diagnosed**: the package currently flags finds whose multi-dimensional position is anomalous within their assigned phase, but it does not distinguish between two archaeologically distinct cases. An *older-than-context* find (e.g. a Pre-Roman ceramic in a Late Antique fill) is typically **residual material** redeposited during levelling – of limited cumulative significance. A *younger-than-context* find (e.g. a Late Antique coin in a Pre-Roman pit fill) is more diagnostically powerful: under the standard archaeological rule that "the most recent find dates the context", such a find may signal an unrecognised intrusion – a later cut and re-fill missed during excavation, i.e. a **latent feature**. Distinguishing these two regimes is planned for the next release (see *Future development*).
- **Functional vs. depositional mixing**: the model flags any heterogeneous context as anomalous, even when the heterogeneity is functional (e.g. a hearth such as VRPG US 304). Distinguishing functional mixing from disturbance requires excavator interpretation.
- **Class-driven partitioning when temporal evidence is weak**: when most finds

carry coarse dating, the cultural class dimension can dominate the clustering, producing typological rather than chronological phases. The v0.12.0 feature-space enhancements (especially `class_scale`) mitigate this effect.

- **PDI saturation**: the PDI tends to approach unity in datasets with sharp class differentiation, even when phases overlap chronologically. Bootstrap confidence intervals (`bootstrap_sef()`) provide more informative uncertainty quantification.
- **Diagonal covariance**: the assumption of conditional independence between features within phases is conservative; full-covariance variants are not currently implemented.
- **SEI normalisation is within-dataset**: absolute SEI values are not comparable across sites. Cross-site comparisons should rely on derived statistics (PDI, mean entropy, ARI).
- **Scalability**: the SEI and ESE matrices are $O(n^2)$ in memory; for $n > 2000$ users should employ `sei_sparse()` or the `max_dist` parameter.

Feature-space improvements (v0.12.0)

In response to the case study, version 0.12.0 introduces five optional feature-space enhancements:

1. **Chronological precision weighting** (`chrono_precision`): adds $1/t_{\text{span}}$ as a feature, giving higher weight to precisely dated finds.
2. **Residuality detection** (`residuality`): captures the chronological mismatch between each find and its context mean, requiring a *context* column.
3. **Class scaling** (`class_scale`): multiplies one-hot class columns by $1/\sqrt{n_{\text{classes}}}$ so their cumulative energy matches a single numeric feature.
4. **Taphonomic score as feature** (`taf_as_feature`): in addition to its EM-weight role, makes `taf_score` an explicit dimension so that finds with similar preservation cluster together.
5. **Sub-class encoding** (`subclass`): allows finer typological distinctions (e.g. *ceramica_impasto* vs. *ceramica_sigillata*) without altering the main `class` column.

Empirical testing on VRPG showed BIC improvements of approximately 10,000 points and an increase from 33 to 38 pure stratigraphic units after activating the four enhancements

applicable to this dataset (subclass encoding requires sub-typological information not currently coded in the database). These improvements are optional and disabled by default to preserve backward compatibility.

Future development

Several developments are planned in response to user feedback (notably from M. Cattani, see Acknowledgements) and to the limitations discussed above:

- **Directional intrusion diagnostics** (planned for v0.13.0): a new column in the `detect_intrusions()` output classifying flagged finds as *older-than-context* (likely residual material from earlier deposits redeposited during levelling) or *younger-than-context* (likely indicators of unrecognised cuts and refills, i.e. latent features). The distinction is computed by comparing each flagged find's chronological midpoint against the mean midpoint of its stratigraphic unit. This addresses one of the main interpretive needs identified by archaeologists during preliminary use of the package.
- **Validation on dendrochronologically dated sites**: the Poggio Gramignano case study uses periodisation-based dating, with a chronological resolution of $ $25–300 years per period. To stress-test the framework on a deposit with annual-resolution chronology, a future case study is planned on the Lago Lucone pile-dwelling site (Gavardo, BS, Italy), where dendrochronological dating provides yearly-resolved temporal anchors for the Bronze Age occupation phases. Such a dataset would allow direct evaluation of how feature-space precision translates into phase-recovery accuracy.
- **Type longevity and production-duration estimation**: a derived statistic, computed once the depositional events are estimated, that returns the temporal range during which each cultural class (or sub-class) is associated with non-negligible posterior membership. This would provide a principled, model-based estimate of the **duration of production and use** of pottery types, metal artefact forms, and other typologically defined categories. The same machinery that flags residuality at the find level can be inverted to characterise, at the type level, the chronological window in which the type is most strongly anchored.
- **Calibrated radiocarbon integration**: support for calibrated ^{14}C distributions via the `rcarbon` package (Crema and Bevan 2021), beginning with the cemetery

skeletal remains under analysis at Poggio Gramignano.

- **Methodological extensions**: full-covariance and Bayesian variants of the mixture model; spatial-autocorrelation-aware likelihoods; automated detection of sub-typological structure within homogeneous classes; and direct ingestion of OxCal phase models.

The package will continue to be developed in response to user feedback through the GitHub issue tracker.

Conclusion

`palimpsestr` fills a long-standing methodological gap between qualitative stratigraphic reasoning and quantitative spatial analysis. By jointly modelling spatial proximity, vertical distribution, chronological overlap, and cultural similarity, the Stratigraphic Entanglement Field framework produces soft phase assignments that acknowledge — rather than suppress — the inherent uncertainty of mixed deposits. The three diagnostic statistics (SEI, ESE, PDI) provide interpretable summaries at the find, deposit, and assemblage levels respectively, and the package is fully integrated with established archaeological data sources (CSV, Excel, SQLite, PostgreSQL, PyArchInit) and GIS workflows (`sf`, GeoPackage, QGIS). The Shiny dashboard makes the framework accessible to archaeologists without R programming experience.

The Poggio Gramignano case study illustrates the framework's strengths on temporally diverse deposits with rich material categories: the model successfully recovers four archaeologically coherent phases, identifies known levelling deposits as palimpsests, and produces interpretable visual outputs that integrate directly with excavation plan geometries. The validation by the excavator confirmed the relevance of the model output and motivated the optional feature-space improvements in version 0.12.0. `palimpsestr` is intended as a complement to, not a substitute for, the Harris Matrix and traditional stratigraphic recording: it adds a quantitative, probabilistic layer of analysis that operates at the find level, precisely the scale at which palimpsest formation is most problematic and least well-served by existing tools.

Data and code availability

The `palimpsestr` package (version 0.12.0 used in this paper) is publicly available at https://github.com/enzococca/palimpsestr under the MIT licence and permanently archived on Zenodo with DOI https://doi.org/10.5281/zenodo.19881542. The `villa_romana` dataset, derived from the Poggio Gramignano excavation, is bundled with the package. Reproducibility scripts for the case study are available in the repository.

Author contributions

E.C. designed and implemented the `palimpsestr` package, the Stratigraphic Entanglement Field framework, and the Shiny dashboard, and wrote the manuscript. R.M. directed the archaeological excavations at Poggio Gramignano (Lugnano in Teverina), provided the dataset and the taphonomic scores per stratigraphic unit, validated the model output against on-site stratigraphic interpretation, and contributed to the discussion of methodological limitations and feature-space improvements.

Acknowledgements

We thank Professor David Soren (University of Arizona), David Pickel (Stanford University) and the wider Poggio Gramignano excavation team for the long-term archaeological work that produced the dataset analysed here. We are particularly indebted to **Professor Maurizio Cattani** (Università di Bologna) for an in-depth methodological review of an earlier version of this manuscript, whose comments led to the explicit treatment of the horizontal-stratigraphy assumption, the introduction of directional intrusion diagnostics in the development roadmap, and the planned future case study on dendrochronologically dated pile-dwellings. The development of `palimpsestr` benefited from the open-source archaeological computing community, particularly the maintainers of `sf`, `ggplot2`, `plotly`, and the PyArchInit project.

Conflict of interest

The author declares no conflict of interest.

References

Bailey, G. (2007). Time perspectives, palimpsests and the archaeology of time. *Journal of Anthropological Archaeology*, 26(2), 198–223. https://doi.org/10.1016/j.jaa.2006.08.002

Bronk Ramsey, C. (2009). Bayesian analysis of radiocarbon dates. *Radiocarbon*, 51(1), 337–360. https://doi.org/10.1017/S0033822200033865

Cocca, E. (2026). `palimpsestr`: Probabilistic Decomposition of Archaeological Palimpsests. R package version 0.12.0. Zenodo. https://doi.org/10.5281/zenodo.19881542

Conolly, J., & Lake, M. (2006). *Geographical Information Systems in Archaeology*. Cambridge Manuals in Archaeology. Cambridge: Cambridge University Press. ISBN 978-0-521-79744-3. https://doi.org/10.1017/CBO9780511807459

Crema, E. R., & Bevan, A. (2021). Inference from large sets of radiocarbon dates: software and methods. *Radiocarbon*, 63(1), 23–39. https://doi.org/10.1017/RDC.2020.95

Dempster, A. P., Laird, N. M., & Rubin, D. B. (1977). Maximum likelihood from incomplete data via the EM algorithm. *Journal of the Royal Statistical Society: Series B (Methodological)*, 39(1), 1–22. https://doi.org/10.1111/j.2517-6161.1977.tb01600.x

Harris, E. C. (1989). *Principles of Archaeological Stratigraphy* (2nd ed.). London and San Diego: Academic Press. ISBN 978-0-12-326651-4.

Kintigh, K. W., & Ammerman, A. J. (1982). Heuristic approaches to spatial analysis in archaeology. *American Antiquity*, 47(1), 31–63. https://doi.org/10.2307/280052

Lucas, G. (2012). *Understanding the Archaeological Record*. Cambridge: Cambridge University Press. ISBN 978-1-107-01026-0. https://doi.org/10.1017/CBO9780511845772

Plutniak, S. (2023). `archeoViz`: an R package for the Visualisation, Exploration, and Web Communication of Archaeological Spatial Data. *Journal of Open Source Software*, 8(92), 5811. https://doi.org/10.21105/joss.05811

Royer, A., Discamps, E., Plutniak, S., & Thomas, M. (2023). SEAHORS: Spatial Exploration of ArcHaeological Objects in R Shiny. Zenodo, peer-reviewed and recommended by Peer Community in Archaeology. https://doi.org/10.5281/zenodo.7957154

Soren, D., & Soren, N. (Eds.). (1999). *A Roman villa and a late Roman infant cemetery: excavation at Poggio Gramignano, Lugnano in Teverina.* Roma: L'Erma di Bretschneider.